MAR Orange Problem

Name - Rithvik Rajesh Matta
Class - 6H
SRN - PES2UG23CS485

Output screenshot

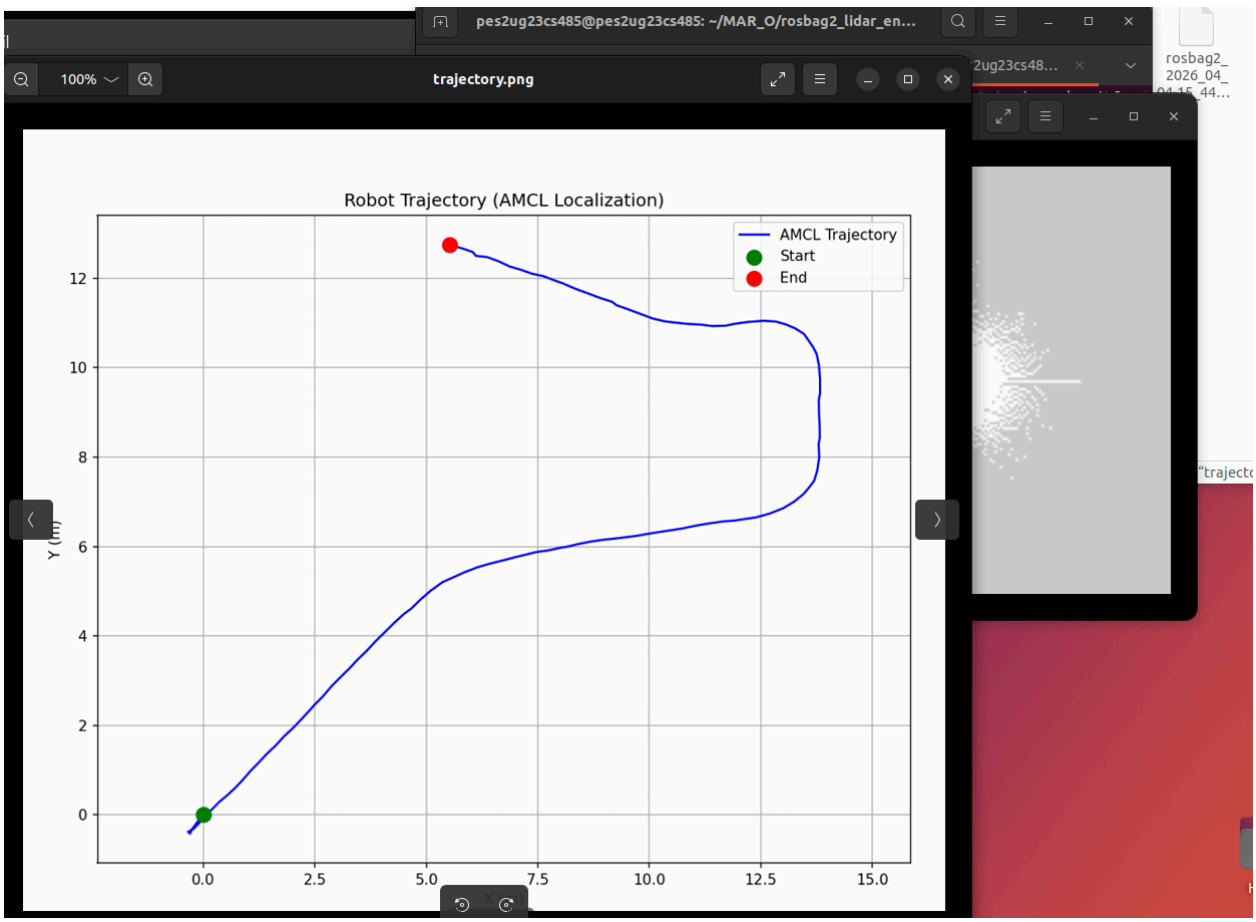

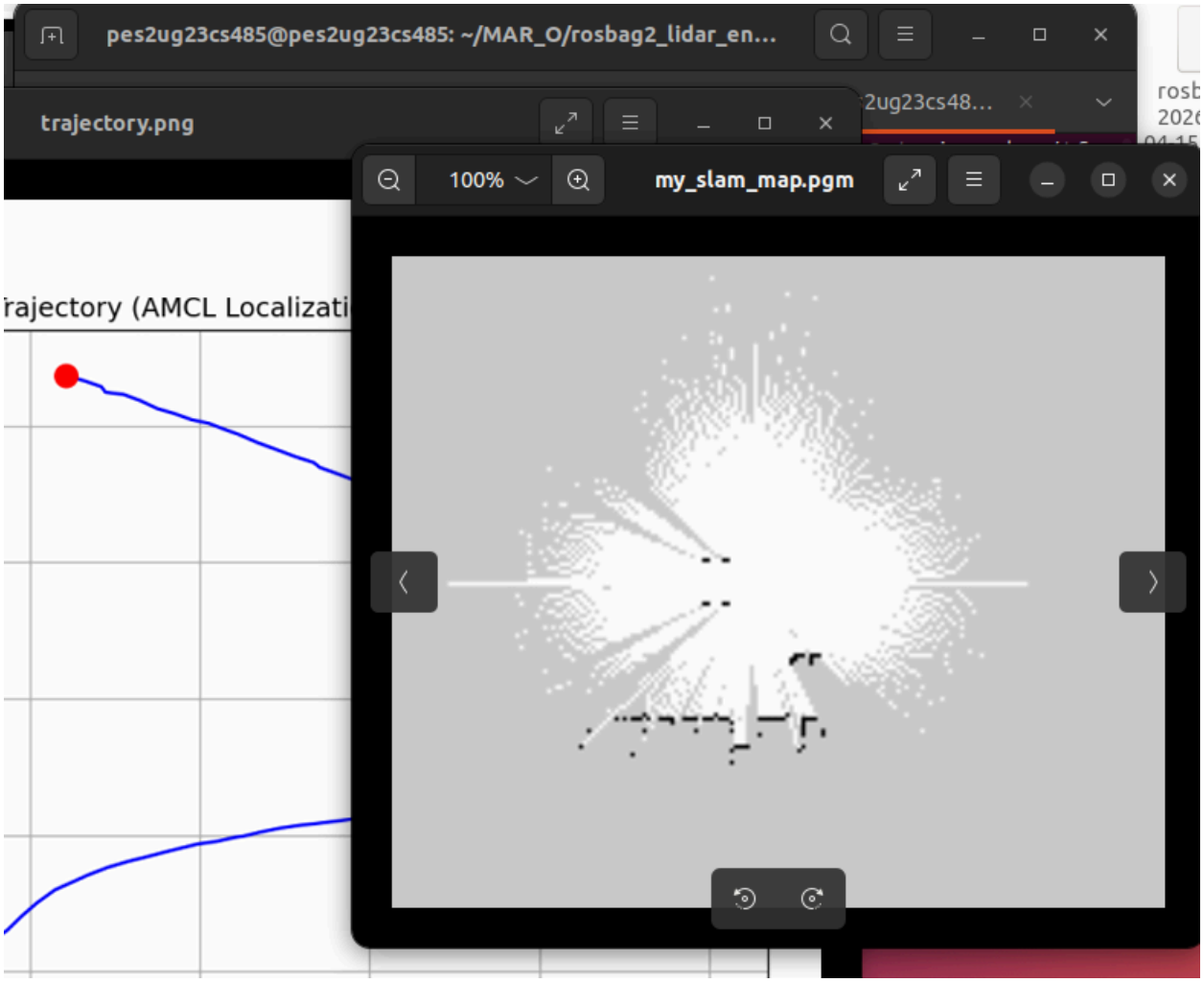
pes2ug23cs485@pes2ug23cs485: ~/MAR_O/rosbag2_lidar_en...
trajectory.png
2ug23cs48...
100%
my_slam_map.pgm
rajectory (AMCL Localizati

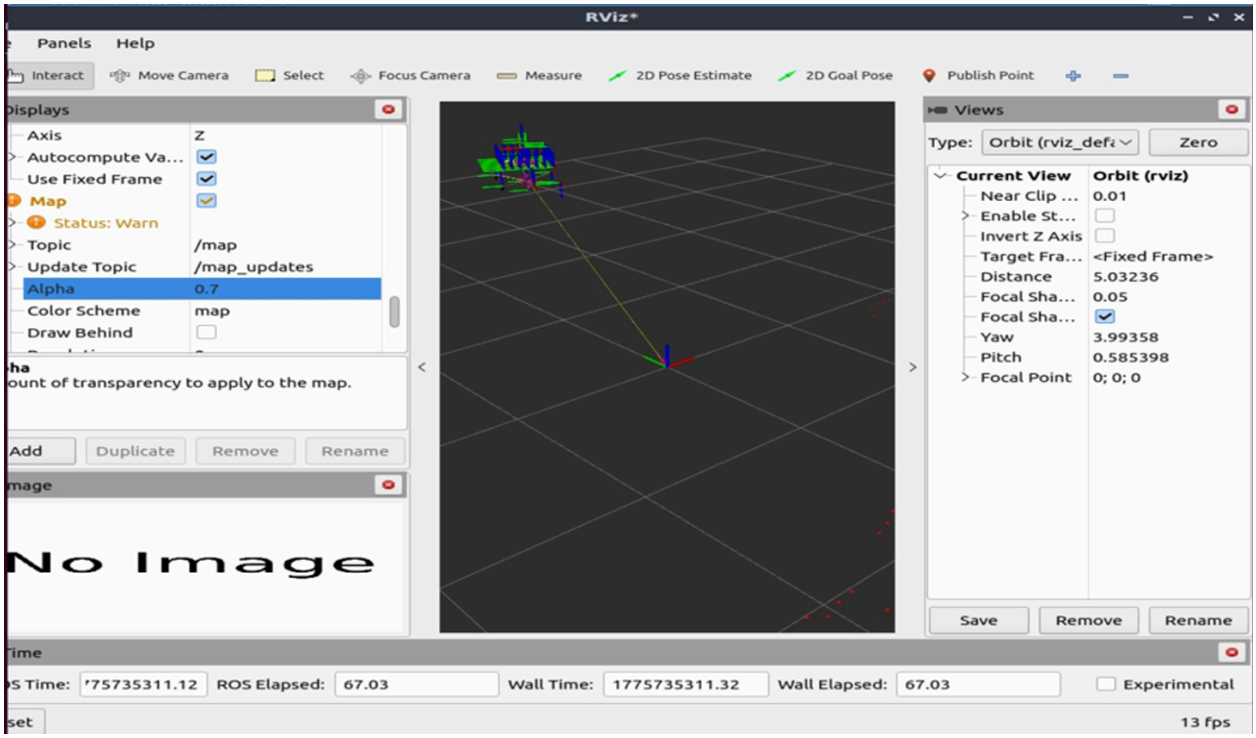
RViz*
Panels
Help
Interact
Move Camera
Select
Focus Camera
Measure
2D Pose Estimate
2D Goal Pose
Publish Point
Displays
Axis
Z
Autocompute Va...
Use Fixed Frame
Map
Status: Warn
Topic
/map
Update Topic
/map_updates
Alpha
0.7
Color Scheme
map
Draw Behind
ount of transparency to apply to the map.
Add
Duplicate
Remove
Rename
No Image
Views
Type:
Orbit (rviz_defa
Zero
Current View
Orbit (rviz)
Near Clip ...
0.01
Enable St...
Invert Z Axis
Target Fra...
<Fixed Frame>
Distance
5.03236
Focal Sha...
0.05
Focal Sha...
Yaw
3.99358
Pitch
0.585398
Focal Point
0; 0; 0
Save
Remove
Rename
Time
ROS Time:
75735311.12
ROS Elapsed:
67.03
Wall Time:
1775735311.32
Wall Elapsed:
67.03
Experimental
13 fps

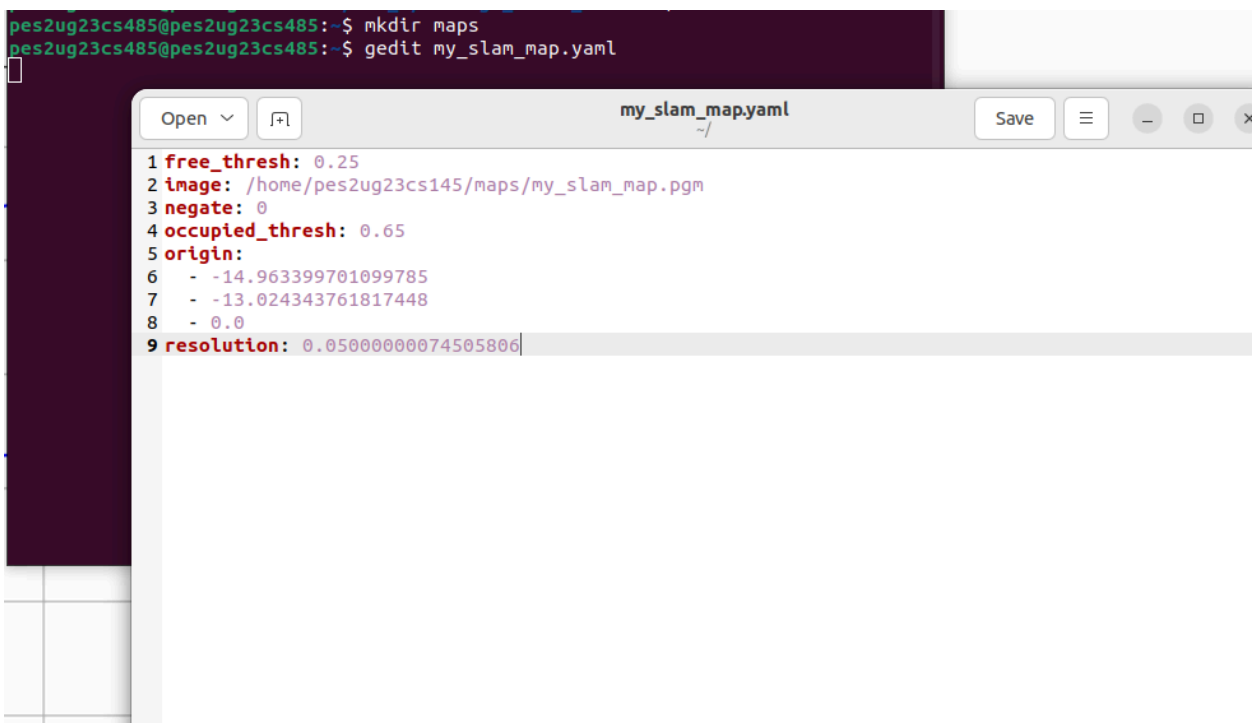
pes2ug23cs485@pes2ug23cs485:~$ mkdir maps
pes2ug23cs485@pes2ug23cs485:~$ gedit my_slam_map.yaml
Open
my_slam_map.yaml
~/
Save
free_thresh: 0.25
image: /home/pes2ug23cs145/maps/my_slam_map.pgm
negate: 0
occupied_thresh: 0.65
origin:
- -14.963399701099785
- -13.024343761817448
- 0.0
resolution: 0.05000000074505806

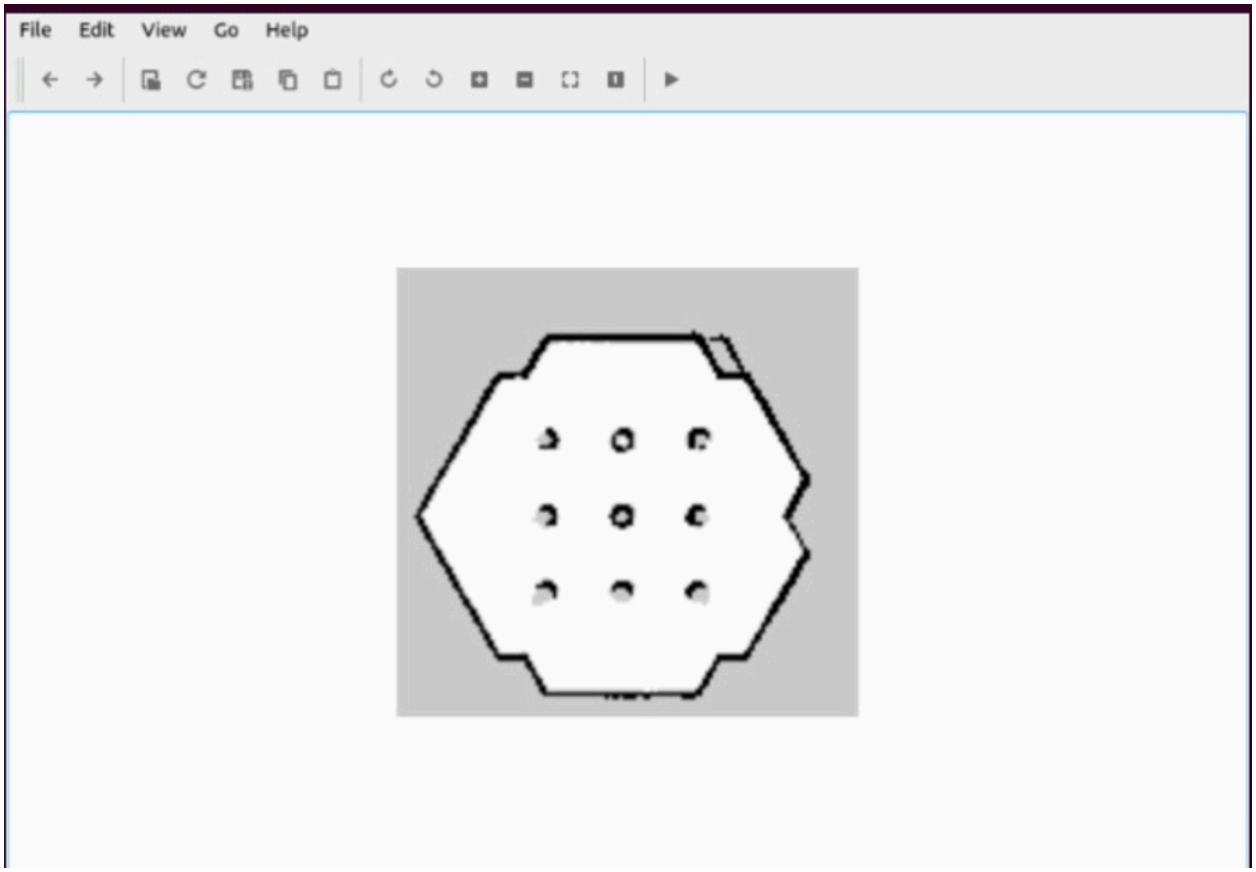
File
Edit
View
Go
Help